Indian Journal of Artificial Intelligence and Neural Networking (IJAINN)
ISSN: 2582-7626 (Online), Volume-1 Issue-3, June 2021

A Novel Data-Driven Optimal Methodology for Detecting Ship from Sar Images Based on Artificial Intelligence

M.S. Antony Vigil, Rishabh Jain, Abhinav Chandra, Tanmay Agarwal

Abstract: ***There are a variety of deep learningalgorithms available in the supervision of ships, but they are dealing with multiple issues ofinaccurate identificationrate and inadequatetargetdetectionspeed. At this stage, an algorithm is given onConvolutionalNeuralNetwork for target identification and detection using the ship image. The study involves the investigation of the reactions of hyper spectral atmospheric rectification on the accurate and precise results of ship detection. The ship features which were detected from two atmosphericrectifiedalgorithms on airbornehyperspectraldata were corrected by the application of these algorithms with the help of an unsupervised target detection procedure. High accuracy and fast ship identification was a result of this algorithm and using unique modules, improving the loss function and enlargement of data for the smaller targets. The results of the experiments show that our algorithm has given much better detection rate as compared to target detection algorithm using traditional machine learning.***

Keyword: ***The Study Involves The Investigation Of The Reactions Of Hyper Spectral Atmospheric Rectification On The Accurate And Precise Results Of Ship Detection.***

I. INTRODUCTION

One of the major breakthroughs in the field of Big Data and Computer Vision has been Deep Learning. It is very popular and is necessary in small areas that contain remote retrieval. While applying it onvisualizeddatasetlike images, it can be attainedwith the help ofConvolutionalNeuralNetworks (CNNs). CNN consists of networks whichhave manylayerssuchasconnected, pooling, normalization, and convolution layers, which aimed at transformingrealdataset to upper level semantic representation. Human beings can easily and precisely detect the objects that are in an image with the help of visual inspection that helps in performing complex tasks. The satellite SAR imaging is always better for the marine traffic surveillance in the horizon when compared with the optical remote sensing, as it can not be disturbed by the weather conditions or the day and night cycle. Under this circumstance, SAR data obtained from Sentinel-1 open-source is mainly engaging. Interferometric Wide SwathMode (IW) can be used to cover up almost every shippingroute and coastal area, while overopen oceansdata can be received using Extra-Wide SwathMode (EW), which enablessea oriented applications for a worldwide coverage. Deep learning models can be trained by using huge number of dataset received by Automatic Identification System (AIS) and the images. For estimation and detection of ship parameters using SAR images can be grasped by new applications by integration ofabovetwodatasources, which is always a challenging job.

The records used in the operationalcontexts, still very much rely on the human interpretations that take up a lot of time, and there is no need for them to do so, as they might cause errors and provide irregular scale to the currently available data.

II. EXISTING SYSTEM

In the existing system, analgorithm known as Adaptive Dual-Threshold SparseFouriertransform (ADT-SFT) is applied, which allowsto detect in-motion target with messed up back image by the applications of RSFT and SFT. According to this algorithm there are two levels of detection. One is the, detection that is applied in every frequencychannels created with sub sampledFastFourierTransform that subdues the estimated frequencies and sparsity due to the effect of strong clutter points and it is known as Constant False Alarm Rate. Another one, manufactured fromsuspectedTargetedDopplerFrequency is subspacedetector. It is seen that ADT-SFT algorithm comes out to be more compatible with clutterbackgroundand does better detection as compared to SFT and RSFT by outcomes of measured sea clutter dataset and simulationanalysis. Also when compared to previous algorithms, minute quantity of target Doppler frequencies are needed to be detected by ADT-SFT algorithm,

Manuscript received on May 29, 2021.
Revised Manuscript received on June01, 2021.
Manuscript published on June 10, 2021.
* Correspondence Author
M.S.Antony Vigil*, Assistant Professor, Department of Computer Science and Engineering, SRM Institute of Science and Technology, Ramapuram, Chennai(Tamil Nadu), India.
Rishabh Jain*, Pursuing Bachelors, Computer Science and Engineering, SRM Institute of Science and Technology, Ramapuram, Chennai(Tamil Nadu), India.
Tanmay Agarwal, Pursuing Bachelors, Computer Science and Engineering, SRM Institute of Science and Technology, Ramapuram, Chennai(Tamil Nadu), India.
Abhinav Chandra, Student, Computer Science and Engineering, SRM Institute of Science and Technology, Chennai(Tamil Nadu), India.

© The Authors. Published by Lattice Science Publication (LSP). This is an open access article under the CC BY-NC-ND license (http://creativecommons.org/licenses/by-nc-nd/4.0/)

and hence it may greatly reduce the computational complexity.

There are twoloops in the reconstruction process, estimationandlocation loop, in which, the estimation loop is used to calculate the corresponding coefficients, whereas location loop searches the index values for K^{th} highest Fouriercoefficient in genuine signal spectrums. In our model, we have preferred locations over estimations, as radarmovingtargetdetection parameters are in direct relation with locations of frequencies.

The SFT algorithm considers the frequency correspondingtoKthhighest coefficient in sample spectrum as provided in estimated results oftarget frequency, where K is taken roughly. Strong Clutter frequencies are easily disturbing. Althoughsomeimprovements can be made by RSFT by placing twothresholds, but they are only suitable for noisy backgrounds.

Both RSFT and SFT algorithms while performing reconstruction can also catch the target. Also, this data is located as perfrequenciesoccurrence probability during reconstruction and frequencies acquired in subsample spectrums. By default, target frequency's SCNR can be reduced by implementing flat window filtering before FFT, therefore making these detections impossible for the target detection problem with clutter background.

III. PROPOSED SYSTEM

A. Feature Extraction:

SAR image is entered within a shared CNN to draw out features.

B. Regional Proposals:

Here, to produce regionproposals, RPN is given input of an acquired featured map. The obtained featured map of a data image is given as an input to the RegionProposalNetwork and delivers or provides outputs set as rectangularobject proposals. It is used to find sensitive objects available in the image. Ships are seen with steady extremal zones there in highresolution SAR images. So, for removing falsealarmregions, using this method can be considered.

C. Bounding Boxes Regression:

The classification scores and filtering of bounding are provided by this network which get the main n regionsproposals delivered by RPN. But in the case of shipdetection by SAR, mainly in harbors, the solutions obtained with these criteria normally have a lot of incorrect detection results. But, threshold obtained will be enlarged boxes to decrease false alarm rates and to correct detection rates.

D. Stochastic Gradient Descent (SGD):

With primacy of proper calculation and little memory, SGD helps to change partialities and weights in the system. Algorithm is appropriate forsolving and clarifying problems having sparsegradient or loud noise, which completely equates with properties ofsparsedistribution and SAR imaging. Lastly, at the completion of one epoch of training, its authenticity is automatically checked by the network to avoid over-fitting, as per the loss of verification set.

E. StartTraining:

As per the strategies defined for training, we implemented tuning and also training. To detect the ships in most SARs having best performance, the weights in every iteration are stored. After the reasonabletrainings, we find the concluding detection model, where the loss can be seen as minimum. After that, the real SAR detection is implemented on the test set.

IV. ADVANTAGES OF PROPOSED SYSTEM

- These networks retain knowledge from examples and use it whenever any similar event takes place, which enables them to work on real-time problems and events.
- Helpssolvecomplexreal-worldproblems with severalconstraints.
- Knowledge can be easily transferred from one model to other as per suitable domains and tasks.
- Feature extraction is 'automatic'.
- Boosting helps to decrease the biaserrorand to build/create strongpredictivemodels.

V. ALGORITHM

Convolutional Neural Network (CNN):

ConvolutionalNeuralNetworkis applied in image recognition and processing which is particularly createdto examine pixel data. It is aartificialneuralnetwork algorithm. CNN has robust imageprocessingAIwhich implements both descriptive and generative tasks using deep learning, generally with the help of machine vision which includes image as well as video recognition, along with naturallanguageprocessing (NLP) and recommender programs.

A system within the neuralnetwork consists of softwareas well as hardware which areintricate according to the working ofhumanbrain neurons. As the name suggests, "Neural Network", it is a network of multiple neurons as we have a network of neurons in a human brain. They help to respond and interact to some problem in a faster and effective way. For image processing, resolution for the images given should be decreased as traditionalneuralnetworks cannot perform ideally. "Neurons" in CNN's process visuals stimuli in many animals and humans as well. They are similarly arranged like frontal lobe. The complete visuals field is sheltered by different layers of neurons.

System used in CNN's is similar to a multilayerperceptron which is designed for decreased processing requirements. Multiple layers of CNN areinput, outputand a hidden layer which further haveseveralConvolutionallayers, which are either fully connected, pooling& normalization layers.

Afarmore simple and effective totrain system can be obtained by increasing the efficiency and removing limitations for the image processing.

© Copyright: All rights reserved.

Some of its advantages are:

- Automatically detects the important features
- Computationally efficient
- Captures the spatial features from an image
- Increase receptive field size

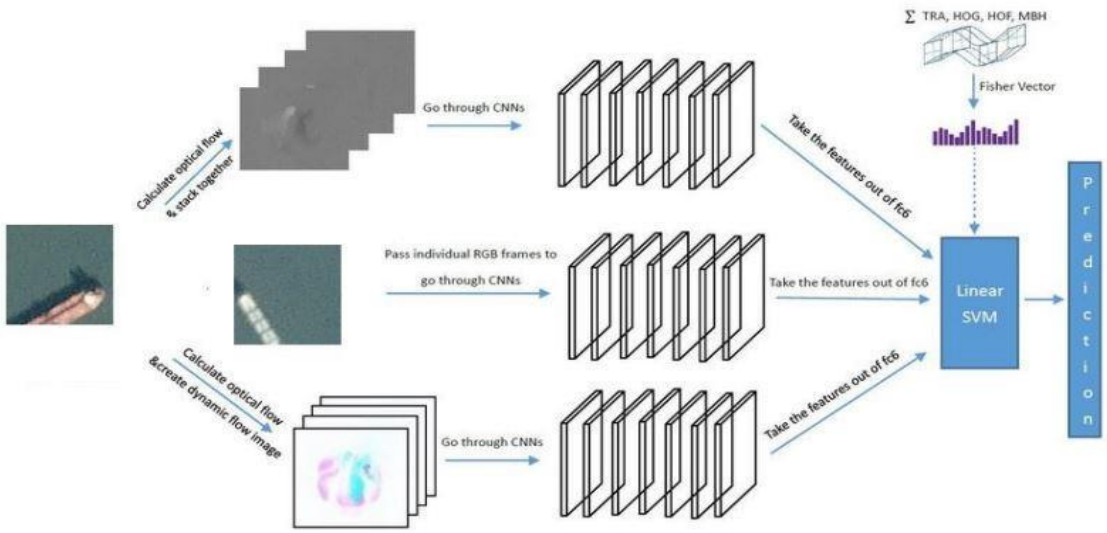

Fig.1 Architecture Diagram

VI. MODULES

A. Dataset Processing:

Tqdmpackage is seen as oneof the mostcomprehensive packagesforprogressbars with pythonand is useful forthose cases youwantto build a script that informs the user about their applications' status. Tqdm can work on many platforms such as Windows, Linux, Mac, Net BSD, Free BSD, SunOS, etc. in any console or in any GUI, and is also compatible withiPython/Jupyter Notebooks.

The train-test splitprocedure is useful and appropriate when you need to analyze a huge dataset, an expensive model to train, or you need a satisfactory rating ofmodelperformance instantly. The process includes taking a dataset and dividing it into two subsets. The first subset is taken to prepare the model and is defined as trainingdataset. The other one of the feature set is not used totrainmodel; in lieu, the input feature of the dataset is given to the model, and then the predictionsaremade and the output is compared to the values expected. This second dataset is defined as test dataset.

Train Dataset: Used to prepare or train the machinelearning model.

Test Dataset: Used to examine the machinelearningmodel.

The target is to examine and test the performanceof the machinelearningmodelon latest data: datanot yet used in the model. Here, as slated, program automatically ignores the real order of data. The data is picked randomly to define the training and the test set, which is normally a desirablefeature in real-world applications toavoid any trend and fixation in the data preparation process.

The skimage.io imagepackage is used toread the imagefrom the file. Rescale operation changes your image size by some provided scaled margin. Scalingfactor can either be seen as a float value, or with multiplevalues - onealongeach of its axis.

Resize operation also helps with same purpose, but gives authority tospecify the shape of an outputimage instead of the scaling factor.

B. Feature Engineering:

Here, the effects of small observing mistakes are minimized using pre-processing. The interval divisions are made in samples andcategoricalvalues are also changed.

IndicatorVariables: Here, indicator variables are formed by changing the given categorical data to Boolean data. We havetocreate around n-1 columns, if we are given more than two values (n).

Centering &Scaling: It means, we are able to centralize the dataset of particularfeatures by just eliminating the means from every value. For scaling data, the centerfeature has to be divided by standarddeviation.

Principal Component Analysis, or PCA, is a dimensional reduction methodthat is usually used to decrease the dimensionalityof huge data sets, by changing large sets of variables to a smaller one which contains almost all the information as in the bigger set. The numbers of variables in a dataset are reduced to gain more simplicity, but here the trick is to get simplicity over losing a little accuracy.

© Copyright: All rights reserved.

This is because, smaller the datasets would be, more easier and faster it would be for machine learning algorithms to explore, visualize and analyze them. So, in brief, idea of PCA is to minimize the number of variables within a dataset, while the muchinformationaspossible is kept.

An inception block starts with a common input, and then splits it into different parallel paths (or towers). Each path contains either Convolutional layers with a different-sized filter, or a pooling layer. In this way, we apply different receptive fields on the same input data. At the end of the inception block, the outputs of the different paths are concatenated.

C. Prediction:

ImageDataGenerator class allows proper rotation of up to 90 degrees, horizontal flip, horizontal and vertical shift of the data. We need to apply the training standardization over the test set. ImageDataGenerator will generate a stream of augmented images during training.

We will define Exponential Linear Unit (ELU) activation functions A single fully-connected layer after the last max pooling. The padding='same' parameter. This simply means that the output volume slices will have the same dimensions as the input ones.

Batch normalization provides a way to apply data processing, similar to the standard score, for the hidden layers of the network. It basically simplifies the outputs from the hidden layer for each small batch (hence the name) in a way, which maintains its mean activation value near to 0, and its standard deviation value near about 1. We can use it with both Convolutional and fully connected layers. Networks with batch normalization train faster and can use higher learning rates.

VII. RESULT

In followingdiscussions, the experimentalavailed results of several measureddatasets were considered to inspect the validityof the method being proposed. At first, we explain the need of multiple-look development fordataset before implementing the desired detection-based algorithm by contrasting and comparing the results achieved from detection through alternate views and angles. In the meantime, we examine among ships and obscurities complexity in them by differentiating available multiple-featured dataset, and doing comparison in images with similar inference at multiple time-varying factors to access the data.

Here in dataset, the output image has dimensions of 790 × 740 pixels, compared with resolutionsof 3.35(Range) × 4.65 m (Azimuth). The below images indicates the Pauli RGB input and output images of these given data, in which 19 ships can be seen highlighted with rectangular red shape. Besides, for DCNN, PolSARimages are too big. So, the image can be divided intosmall segments using technique named sliding-window, in which the steps are taken with 63 pixels and slice measurement taken is 63 × 63.

After that, the classifier based on CNN is implemented forship subsamples extraction. CNN-based classifier obtains the high performance by 99.7% precision on actual data, and it can be used in further sub samples extracting. At last, the ship detection is done using modified R-CNN.



© Copyright: All rights reserved.

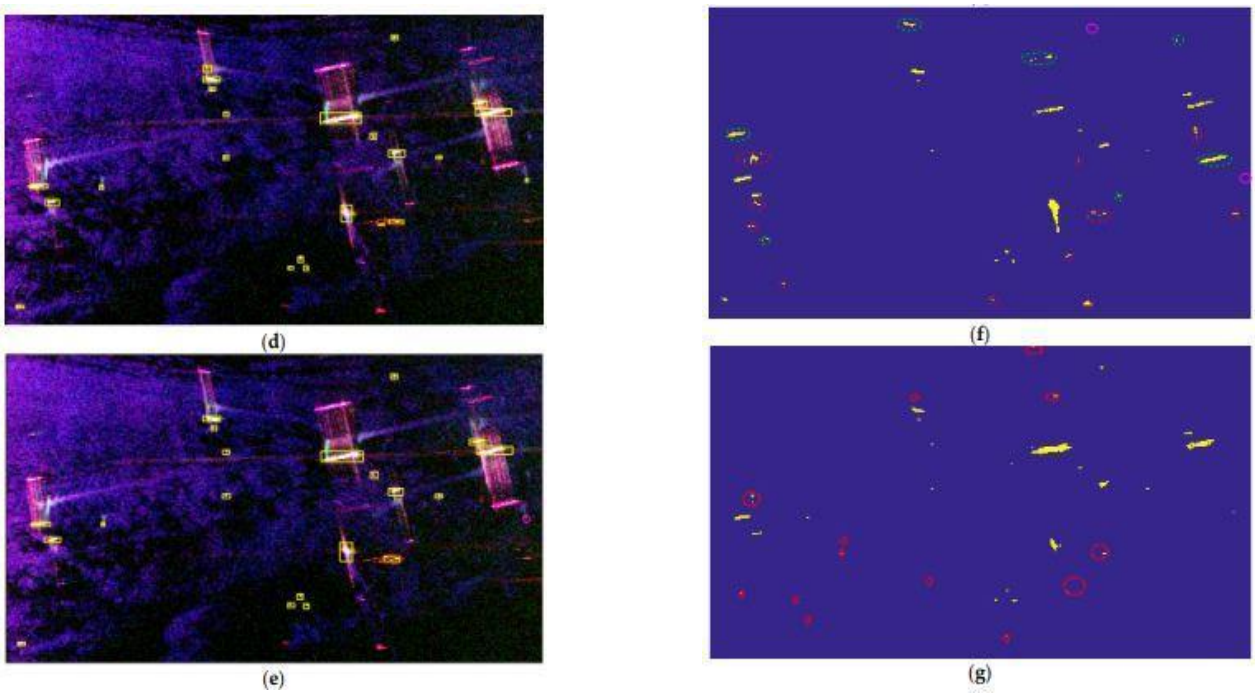

Figure.2 (a) Inputimage. (b) Results from active R-CNN Detection. (c) Results from deep R-CNN detection. (d) Proposed detection results. (e) Multiple-look processed results according to the detection proposed, (f) Results from CFAR detection, and (g) Ship Detection based on extremely generated Convolutional Neural Network.

Method	N_{td}	N_{fa}	N_{miss}	P_d	FoM	Consumed Time
Shallow Faster R-CNN [16]	19	1	1	95.0%	90.5%	4.20 s
Deep Faster R-CNN [16]	19	3	1	95.0%	82.6%	4.50 s
Proposed ship detector	**20**	**3**	**0**	**100%**	**86.9%**	**5.30 s**
Modified CFAR [8]	18	17	2	90.0%	48.6%	108.10 s
Fully convolutional network based ship detector [22]	20	13	0	100%	60.6%	3.37 s

Table.1 Accuracy Assessment for Dataset

VIII. CONCLUSION

As per our paper, we have come up with a target ship detection as well as classification technique at the seasurface derived on the basis of deeplearning. In the above method, for classification, a CNN based model marine target has been used. Here, we have used a huge amount of shipnavigation datasets fortraining as well as testing purpose of CNN for classification and sea level targets detection. The results obtained from those study show intelligent as well as high level of accuracy and benefits of CNN over large-scale image analysis and recognitions feature.

Now, the next step would be to remove and diminish the lands impact so that proper operation for sea-land separation can be performed, and further testing and training to increase and improve the model's accuracy using deepneuralnetworks.

REFERENCES

1. DragomirAnguelov, ChristianSzegedy, Wei Liu, ScottReed, ChengYang Fu,and Dumitru Erhan"Single Shot Multiple box Detection" EuropeanConferenceonComputerVisions, 2016.
2. J. Tang, C.Deng, G. B. Huang, B.Zhao, "Compressed-domainshipdetectiononspaceborneopticalimage using deepneuralnetwork ", GeoscienceandRemote Sensing IEEE Transactions, vol. 53, pp. 1174-1185, March 2015.
3. Kanzheng Hu, Yicheng Li, and X. Chu, "Vessel ObjectsExtraction&Features ValuesEstimation in InlandWaterways and Naval using ImageProcessing" JournalofTransportsInfo&Safety, 2015, p.01-08.
4. Zhe Wu, C. Chen, Qi Wu, andL.Tian, "Multiple Detection Ways ofShipsTargets in WaterwayswithDynamicsBackgrounds," JournalofChinaGorges University, 2019, p. 97.
5. 5. J. Guan, X.Chen, Y. He, and X. Yu, ``Radardetectionfor continuous movingtarget within short-time sparsefractionalFouriertransformdomain," ActaElectron. Sinica, no 12, vol 45, pp. 03030-03036, 2017.
6. Z. Zhang, Y.Xu, J.Yang, X.Li, and D. Zhang, ``A survey ofsparserepresentation: Algorithmsandapplications," IEEE Access, vol. 3, no. 1, pp. 490-530, May 2015.
7. S. Liu et al., ``SparsediscretefractionalFouriertransformand its appli- cations," IEEE Trans. SignalProcess., vol. 62, no. 24, pp. 6582-6595, Dec. 2014.

© Copyright: All rights reserved.

8. X. L. Chen, J.Guan, Y. L. Dong, and Z. J. Zhao, ``Seacluttersuppressionandmicromotiontargetdetection in sparseDomain," ActaElectronicaSinica, vol. 44, no. 4, pp. 860-867, 2016.
9. X. Chen, J.Guan,Y. He, andX.Yu, ``High-resolutionsparserepresentationand its applications in radarmovingtargetdetection," J. Radars, vol. 6, no. 3, pp. 239-251, 2017.
10. C. Pang, S.Liu, and Y. Han, ``High-speedtargetdetectionalgorithmbasedonsparseFouriertransform," IEEE Access, vol. 6, pp. 37828-37836, 2018.

AUTHORS PROFILE

M.S.Antony Vigil, earned her Master's and Bachelor's Degree in Computer Science and Engineering from Anna University, Chennai. She is currently working as an Assistant Professor in the Department of Computer Science and Engineering, SRM Institute of Science and Technology, Ramapuram, Chennai. She is having 11 years of teaching experience. She has many publications in reputed International Journals and conferences which are indexed by Web of Science and Scopus. She has also registered Patents on IOT and Machine Learning. She has received "Young Scientist Award" in the International Best Scientist Awards by VDGood Professional Association. Her Research Interests are Image Processing, Artificial Intelligence, IOT and Cryptography.

Rishabh Jain, was born in 1999. He is currently pursuing Bachelors degree in the field of Computer Science and Engineering in SRM Institute of Science and Technology, Ramapuram, Chennai. He will be beginning with his professional career while working in Walmart Global Tech, Chennai. His research interests are Image Processing, Machine Learning, and Artificial Intelligence.

Tanmay Agarwal, was born in 1999. He is currently pursuing Bachelors degree in the field of Computer Science and Engineering in SRM Institute of Science and Technology, Ramapuram, Chennai. Currently, he is also working at VDoITTechnologies Pvt Ltd. at the post of IT associate (React Developer). His research interests are Web Development, Mobile application development, Image Processing, and Machine Learning.

Abhinav Chandra, is currently a student of Computer Science and Engineering, pursuing his final semester from SRM Institute of Science and Technology, Chennai. His research interests include Machine Learning, Artificial Intelligence and Computer Vision. He aims at working as a Software professional in the IT field and takes interest in research work as a hobby.

© Copyright: All rights reserved.